MODULE-2 Foundations of Al: Historical Milestones and Core Concepts

Individual Task

Understanding Big Data Around Me: Find A Real-World Example Of Big Data (Like Traffic Updates, You Tube Recommendations) And Explain It Using The Concepts Of Volume, Velocity, And Variety.

Introduction

In today's digital world, data is being generated at an unprecedented rate. Every time we browse the internet, use mobile apps, watch videos, shop online, or even travel using GPS navigation, data is produced and stored. This massive collection of data is known as **Big Data**. Unlike traditional datasets, Big Data is extremely large, complex, and fast-changing, making it difficult to manage with conventional data processing tools.

To better understand Big Data, researchers describe it using three core characteristics called the **3 Vs**:

- **Volume** – The amount of data generated
- **Velocity** – The speed at which data is produced and processed
- **Variety** – The different forms and types of data

To understand these concepts clearly, we can examine a real-world system used daily by millions of people: a **traffic navigation system** such as Google Maps. These applications provide real-time traffic updates, route suggestions, and estimated arrival times. Behind this simple interface lies a powerful Big Data infrastructure that continuously collects, processes, and analyzes massive amounts of information.

Real-World Example: Traffic Navigation Systems

Traffic navigation systems rely on data from multiple sources such as GPS signals, road sensors, mobile devices, satellites, and historical traffic records. Every time a user opens a navigation app, their device sends location data to servers, which combine it with data from other users and sensors to determine traffic conditions.

For example, if many vehicles are moving slowly on a particular road, the system detects congestion and suggests an alternative route. This process requires analyzing huge volumes of data in real time and in multiple formats, making it a perfect example of Big Data in action.

Explanation Using the Three Vs of Big Data

1. Volume — Massive Quantity of Data

Volume represents the total quantity of data produced and stored. Modern systems generate enormous amounts of information every second. For example, social media platforms produce millions of posts, images, and videos daily, while sensors in smart cities continuously collect environmental and traffic data. This huge accumulation of information is what makes data "big." Organizations must store and process data ranging from terabytes to petabytes, which requires advanced storage technologies such as cloud computing and distributed databases.

In traffic navigation systems, data is collected from:

- Millions of smartphone users
- GPS satellites
- Road cameras
- Traffic signals
- Highway sensors
- Historical traffic databases
- Weather reports

Every second, thousands of vehicles transmit their location coordinates. If millions of users are active simultaneously, the total amount of data generated becomes enormous. Over time, this data accumulates into terabytes or even petabytes of information.

Why Volume Matters

Volume is one of the most important characteristics of Big Data because it determines how much information a system can analyze to produce meaningful results. The larger the dataset, the more patterns, trends, and relationships can be discovered. In real-world applications, decisions based on small datasets may be inaccurate or biased, but decisions based on massive datasets tend to be more reliable. For example, a weather prediction system that analyzes data from millions of sensors worldwide will provide more accurate forecasts than one using data from only a few locations. Therefore, high data volume improves the quality of insights, predictions, and decision-making.

2. Velocity — Speed of Data Generation and Processing

Velocity describes how fast data is generated, transmitted, and analyzed. In modern applications, data is produced continuously and must often be processed instantly to remain useful. For example, traffic navigation apps update routes in real time based on current road conditions, and stock

trading systems analyze market data within milliseconds. High velocity ensures that systems respond quickly and provide accurate, up-to-date information to users.

Traffic navigation systems operate in real time, meaning they must process incoming data instantly. Every second:

- New GPS locations are received
- Traffic speed changes
- Road conditions update
- Accidents or roadblocks are reported
- Weather conditions shift

If processing were slow, the system would show outdated traffic information, leading to incorrect route suggestions. Therefore, high-speed processing is essential.

Real-Time Example

Suppose an accident suddenly blocks a road. Within seconds:

1. Vehicles slow down.
2. GPS data shows reduced speed.
3. The system detects abnormal traffic patterns.
4. The app updates the traffic map.
5. Alternate routes are suggested.

This entire process occurs almost instantly, demonstrating high velocity.

Importance of Velocity

- Enables real-time decision making
- Prevents outdated information
- Improves navigation accuracy
- Enhances user experience

3. Variety — Different Types of Data

Variety refers to the different forms and formats of data collected from multiple sources. Traditional databases mainly stored structured numerical data, but modern systems must process text, images, videos, audio, sensor readings, and more. This diversity makes data analysis more complex but also more powerful because it provides a complete understanding of situations. Handling variety requires specialized technologies such as NoSQL databases, machine learning algorithms, and multimedia processing systems.

Structured Data

- GPS coordinates
- Speed values
- Distance measurements
- Time stamps
- Traffic density numbers

Semi-Structured Data

- Incident reports
- Location tags
- Traffic alerts
- Road descriptions

Unstructured Data

- Images from traffic cameras
- Video footage
- Satellite imagery
- Voice search commands
- User-reported messages

Each data type requires different storage and processing techniques. For instance, numerical GPS data can be stored in tables, while video footage requires large multimedia storage and specialized analysis algorithms.

Why Variety Matters

Handling diverse data types allows the system to build a complete understanding of real-world conditions. For example:

- Camera images confirm accidents.
- Weather data explains slow traffic.
- User reports identify roadblocks.

Combining all these data forms enables more accurate predictions and smarter route suggestions.

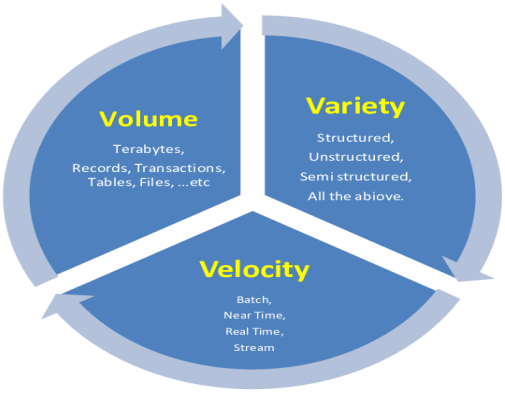

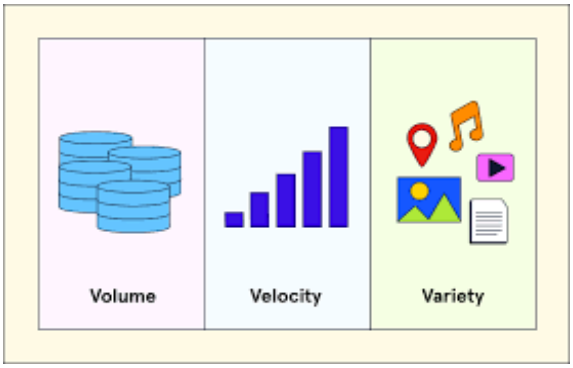

Technologies Behind Big Data Traffic Systems

To manage the 3 Vs effectively, navigation platforms use advanced technologies such as:

- Cloud computing for large-scale storage
- Distributed databases for parallel processing
- Machine learning algorithms for prediction
- Artificial intelligence for pattern recognition
- Streaming analytics for real-time processing

These technologies ensure that massive amounts of diverse data are processed quickly and efficiently.

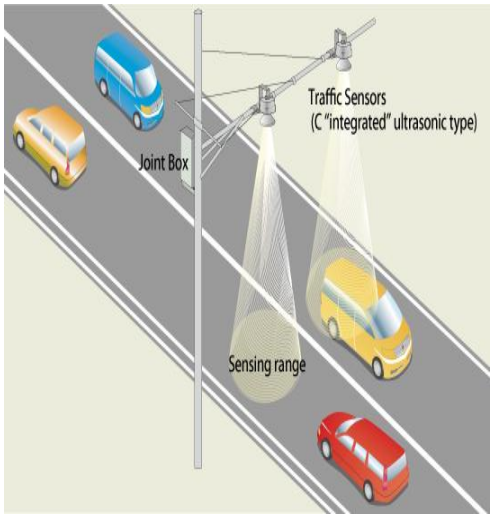

Conclusion

The traffic navigation system is an excellent real-world example of Big Data because it clearly demonstrates the three essential characteristics: Volume, Velocity, and Variety. Massive amounts of location and sensor data are generated continuously (Volume), processed instantly to provide real-time updates (Velocity), and collected in multiple formats such as numbers, images, and reports (Variety).

Understanding Big Data through practical examples helps us appreciate how modern technology works behind the scenes to simplify everyday tasks. As technology continues to advance, Big Data will become even more important in shaping smarter systems, intelligent cities, and efficient digital services. Mastering these concepts is essential for students and professionals who want to understand the future of data-driven technology.